

BurgeRoad

Think about it... which food is the most common food all over the world today? have many variations? can be eaten 24/7? This is the Hamburger!!

Creators

Ori Goldenberg - 311119523
Ohad Edry - 205533003
Daniel Ashorov - 31345842

GIS Application Development Course
Lecturer - Mark Israel

The Idea

In the end of the covid period, a group of 5 travelers have traveled to Mount Hermon, located in the Golan Heights. The group finished a day full of Ski and wanted to have burger so much. Since they were surrounded by Druze villages, they weren't able to find burger's place and realized that a navigation application of burgers, will allow travelers to enjoy the magic of the Hamburger all-over the world.

Stakeholders

1) Burger consumers
2) Burger communities all over the globe
3) Restaurants owners
4) Carnivores

Project Structure

Burger road, web based system. Written with Typescript(TS), using ReactJS environment. The system preforms mapping of Hamburger restaurants all over the world and represents the restaurant on-real time, in adjacent to the user's location. The system can be used in any device that supports web-browser applications.

Geographical engine - Google Maps API

DataBase - Firebase

Log-in Page

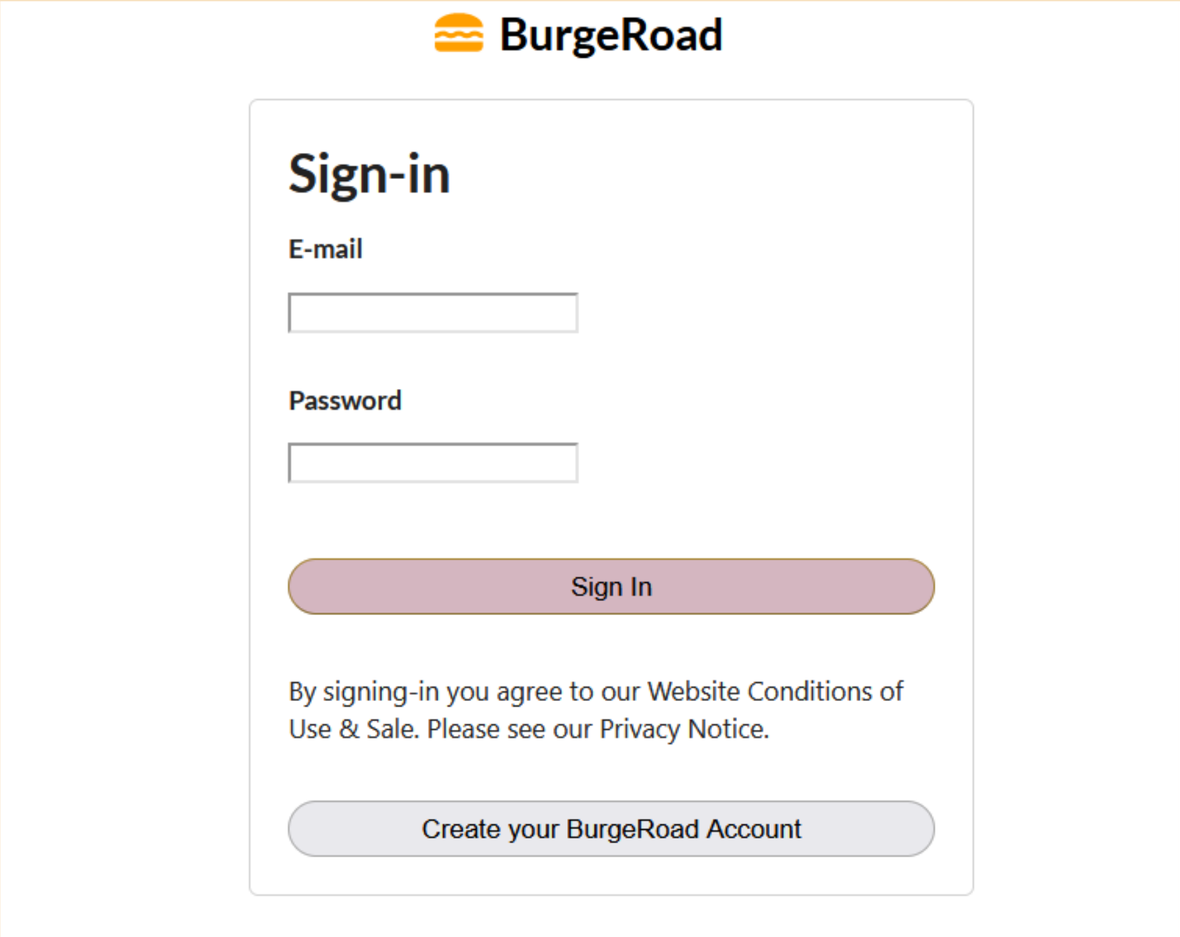
BurgeRoad
Sign-in
E-mail
Password
Sign In
By signing-in you agree to our Website Conditions of Use & Sale. Please see our Privacy Notice.
Create your BurgeRoad Account

Home Page

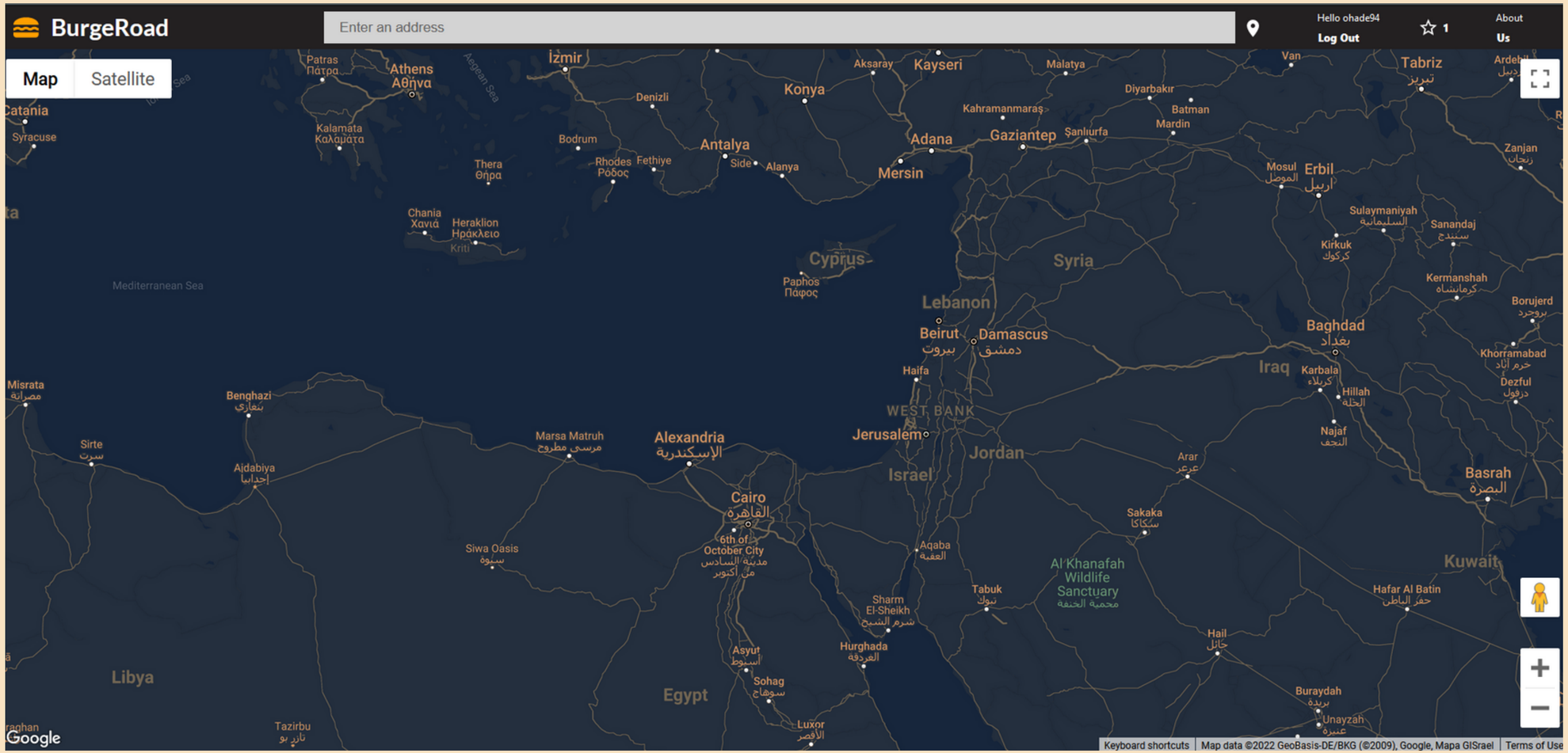
BurgeRoad
Enter an address
Hello ohade94
Log Out
1
About
Us
Map
Satellite
Patras
Πάτρα
Athens
Αθήνα
Aegean Sea
İzmir
Denizli
Konya
Aksaray
Kayseri
Malatya
Van
Tabriz
تبریز
Ardebil
Catania
Syracuse
Kalamata
Καλαμάτα
Bodrum
Rhodes
Ρόδος
Fethiye
Antalya
Side
Alanya
Adana
Mersin
Kahramanmaraş
Gaziantep
Şanlıurfa
Diyarbakır
Batman
Mardin
Zanjan
زنجان
Thera
Θήρα
Chania
Χανιά
Heraklion
Ηράκλειο
Kriti
Mosul
الموصل
Erbil
اربيل
Sulaymaniyah
السليمانية
Sanandaj
سنندج
Kirkuk
كركوك
Cyprus
Paphos
Πάφος
Syria
Mediterranean Sea
Kermanshah
كرمانشاه
Borujerd
بروجرد
Lebanon
Beirut
بيروت
Damascus
دمشق
Baghdad
بغداد
Khorramabad
خرم آباد
Haifa
Iraq
Karbala
كربلاء
Hillah
الحلة
Dezful
دزفول
Misrata
مصراتة
Benghazi
بنغازي
WEST BANK
Jerusalem
Najaf
النجف
Sirte
سرت
Marsa Matruh
مرسى مطروح
Alexandria
الإسكندرية
Jordan
Arar
عرعر
Ajdabiya
إجدابيا
Israel
Basrah
البصرة
Cairo
القاهرة
Sakaka
سكاكا
Siwa Oasis
سيوة
6th of October City
مدينة السادس من أكتوبر
Aqaba
العقبة
Al Khanafah Wildlife Sanctuary
محمية الخنفة
Kuwait
Tabuk
تبوك
Hafar Al Batin
حفر الباطن
Sharm El-Sheikh
شرم الشيخ
Hail
حائل
Asyut
أسيوط
Hurghada
الغردقة
Libya
Sohag
سوهاج
Egypt
Buraydah
بريدة
Unayzah
عنيزة
Tazirbu
تازربو
Luxor
الأقصر
Google
Keyboard shortcuts
Map data ©2022 GeoBasis-DE/BKG (©2009), Google, Mapa GISrael
Terms of Use

Search by location

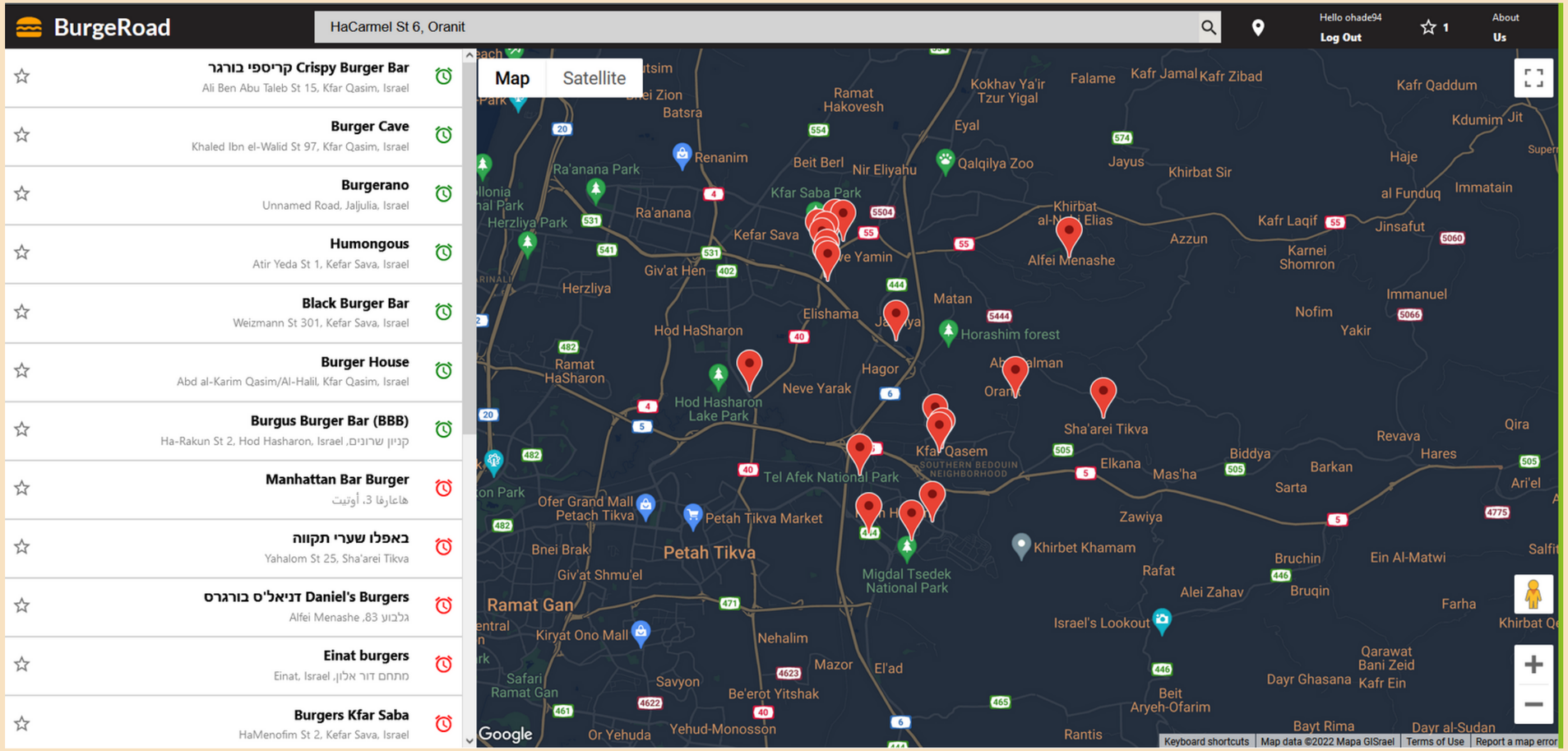

In this page we present the Clocks feature - Green marker represents open restaurant, whilst red one, represents closed restaurant. Red marker on the map represents the restaurant location

Manual Search

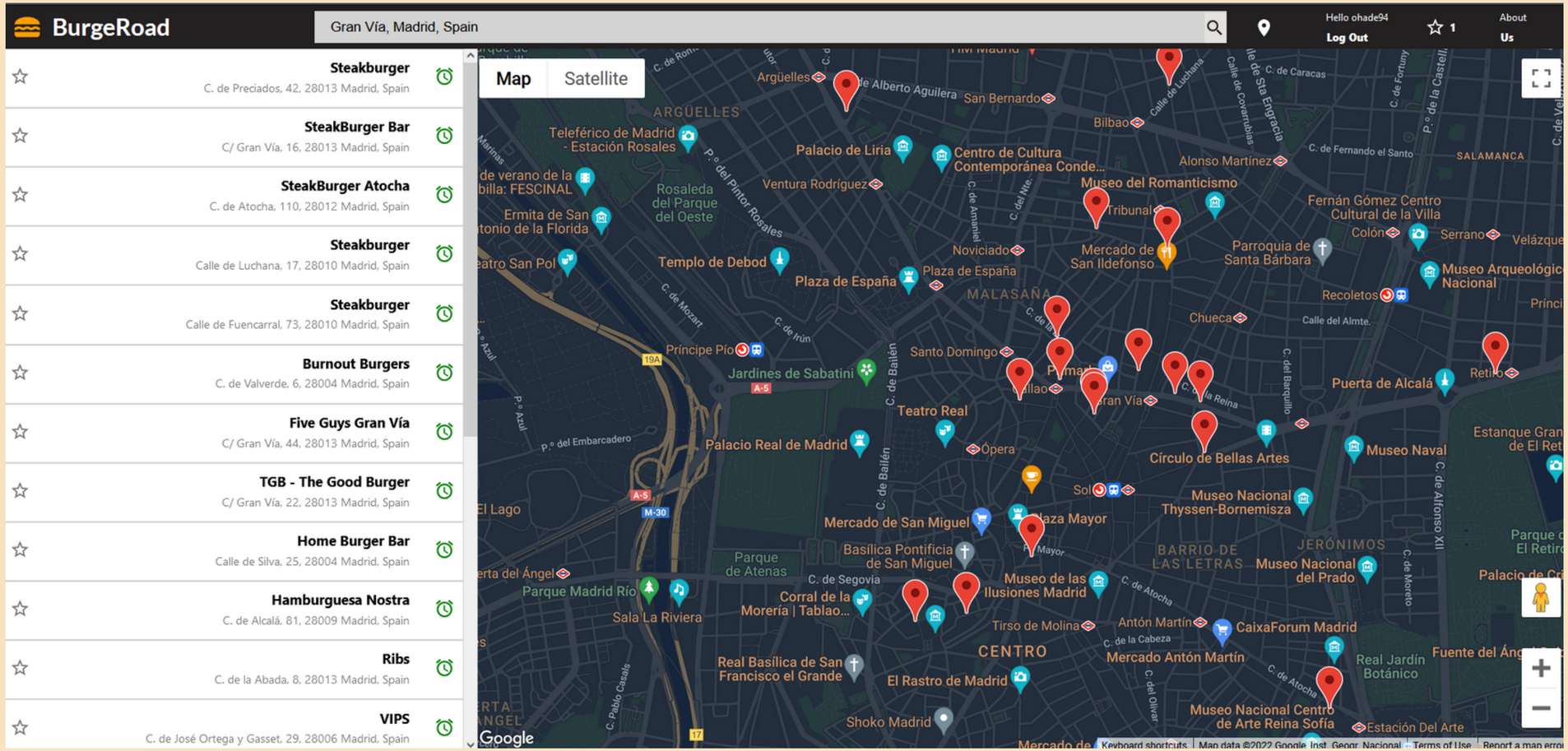

Favorites Feature

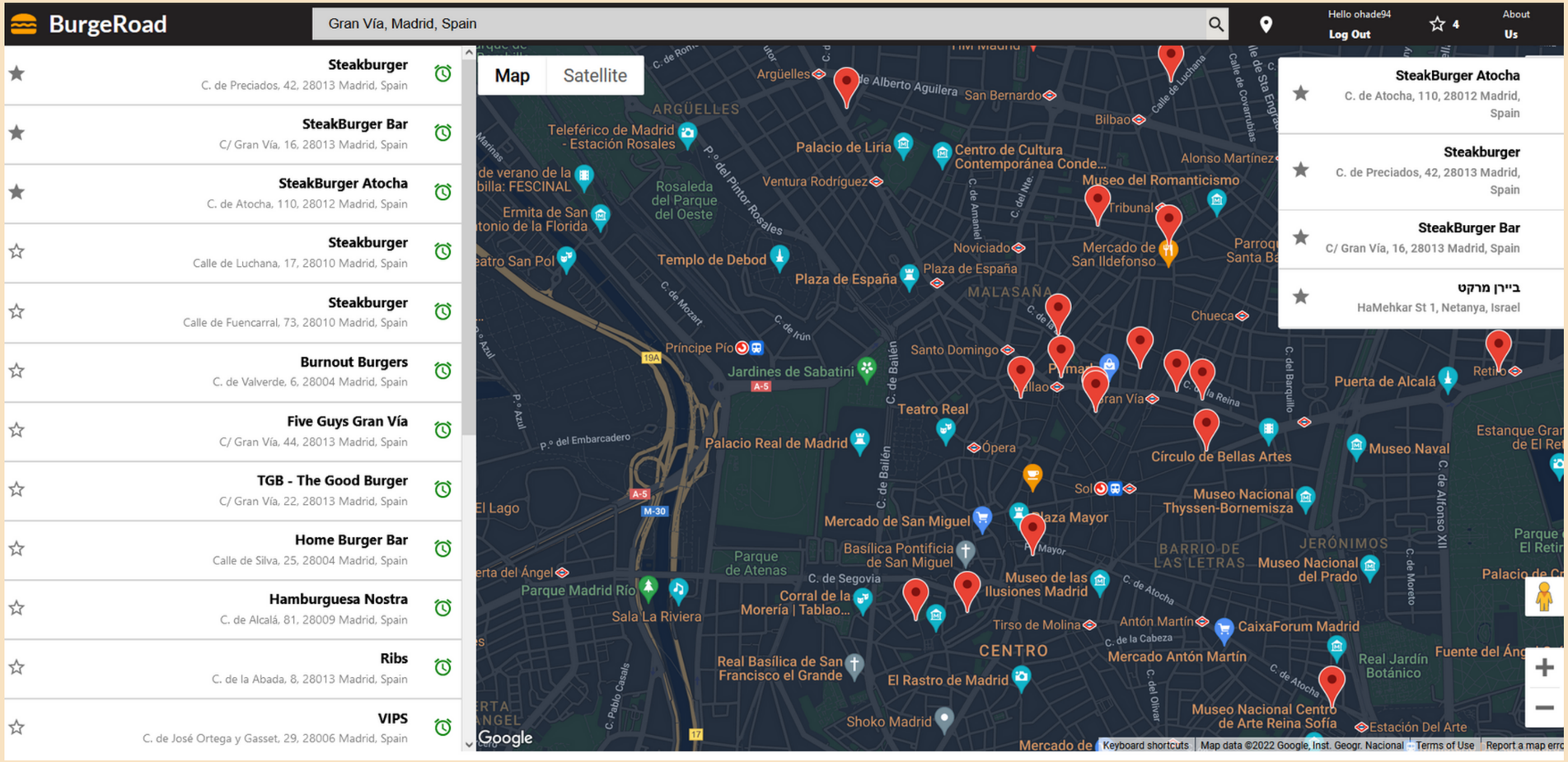

Security Feature

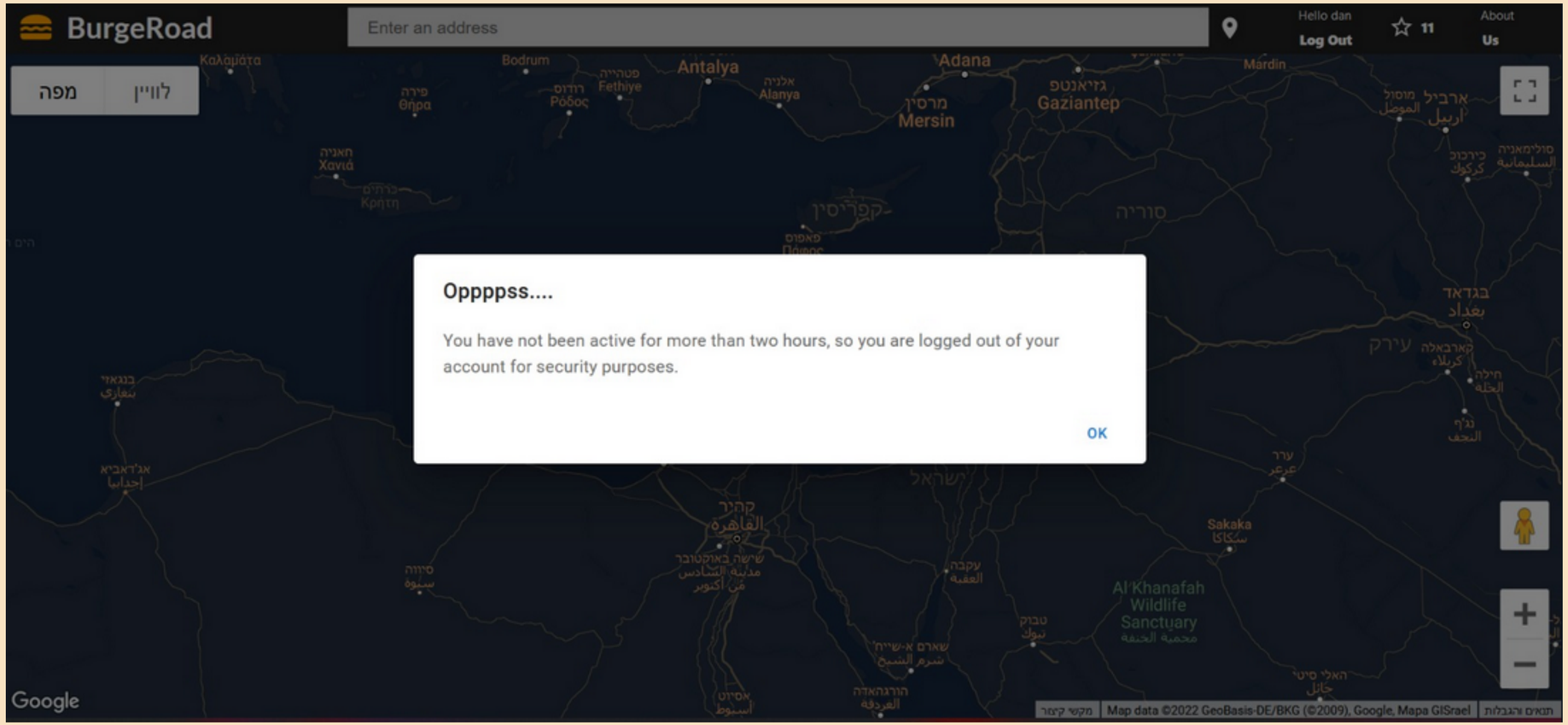

For security purposes, in order to prevent any users harm, the user will be disconnected automatically by the system within 2 hours, upon logging in.

Info Window Feature

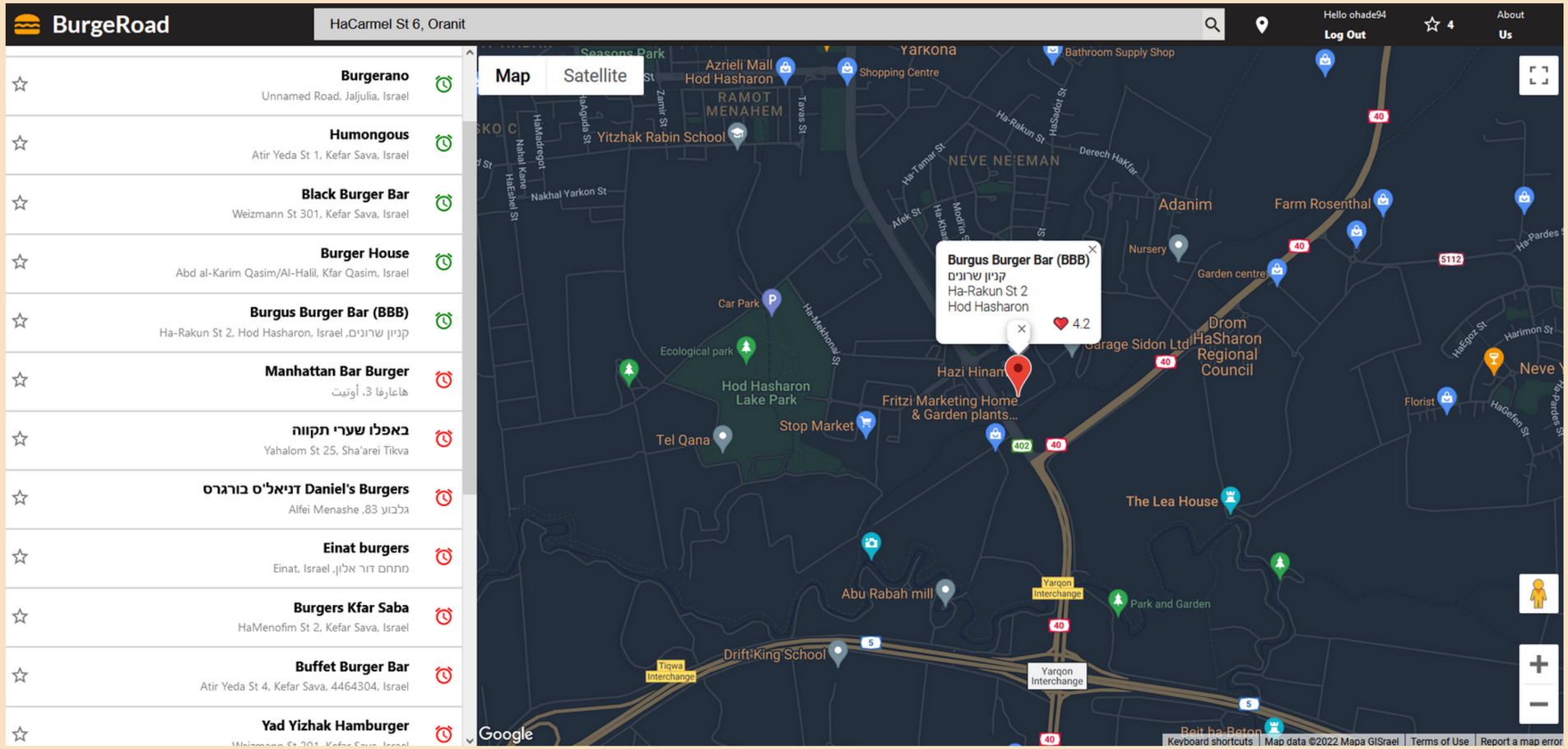

The info window feature, contains the restaurant location, complete address and rating score

Thank You!